PA 4

Schacht S1 Mühlenviertel

DN 1.500

Grundriss

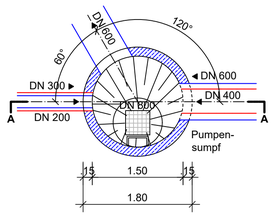

Schnitt A-A

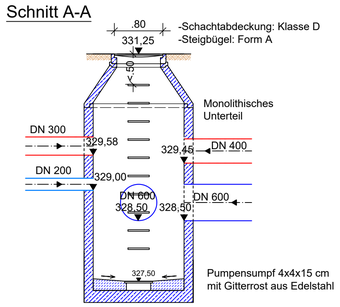

PA 6

Schacht S1 Werftstraße

DN 1.500

Grundriss

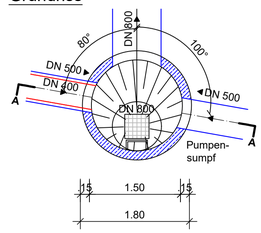

Schnitt A-A

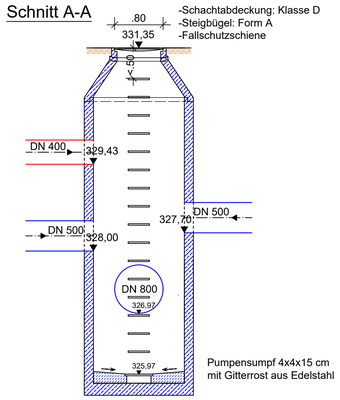

Schacht S2 Werftstraße

Grundriss

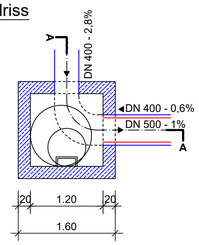

Schnitt A-A

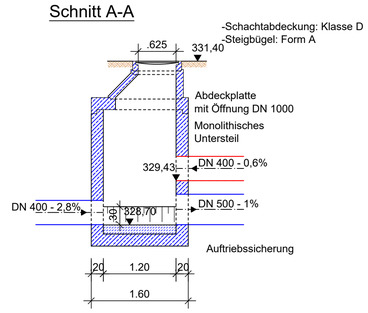

Schacht S4 Werftstraße

DN 1.200

Grundriss

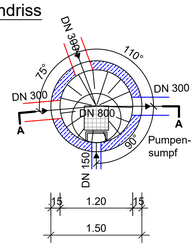

Schnitt A-A

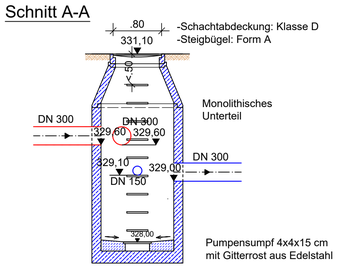

PA 7

Schacht S21 Werftstraße

DN 1.000

Grundriss

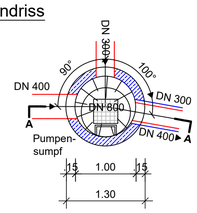

Schnitt A-A

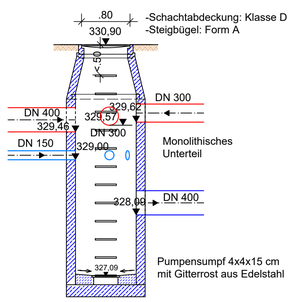

Schacht S22 Werftstraße

DN 1.500

Grundriss

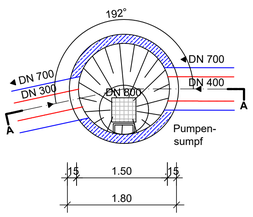

Schnitt A-A

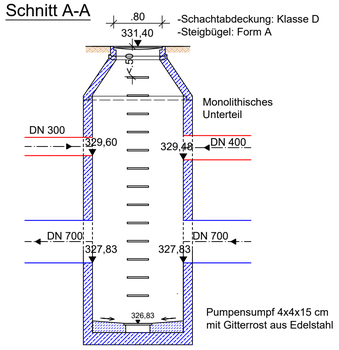

PA 4/6/7

Regelschacht Drainage

DN 1.500

Grundriss

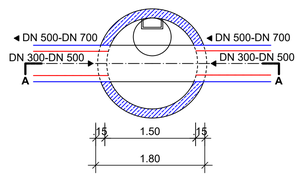

Schnitt A-A

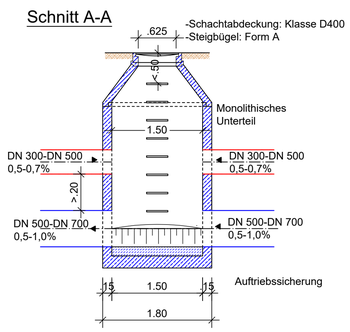

Vermerke Genehmigungsbehörde :

Wasserwirtschaftsamt Regensburg

STADT REGENSBURG

Index	Bemerkung	geändert am	Name	geprüft am	Name
c					
b					
a					

Übersichtslageplan

Vorhaben :	Hochwasserschutz Regensburg Abschnitt H Unterer Wöhrd PLANFESTSTELLUNG	Plan-Code :	36200-E- C 3
		Anlage : C 3	Phase : G
Landkreis/ Stadt :	Regensburg	Plan-Nr. :	RB-H- PA4/6/7 S 50
Vorhabensträger :	Freistaat Bayern, Wasserwirtschaftsamt Landshuter Straße 59, 9053 Regensburg	Vorhabenskennzeichen:	G1t 3620001015
Maßstab : 1:50	Planinhalt : Planabschnitt (PA) 4/6/7 Regel- und Sonderschachtbauwerke	Lagebezug:	GK4 (EPSG 31468)
		Höhenbezug:	Regensburger Höhennetz aus 1927 in m ü.NN (≙ DHHN12/ 92/ 2016 des LDBV)
Planung :	Arbeitsgemeinschaft TEAM 3	entw. :	3/2024 — team 3
		gez. :	4/2025 — Nikolai, SP
		gepr. :	5/2025 — WWA
30.04.2025 Datum	Unterschrift Entwurfsverfasser	26.05.2025 Datum	Unterschrift Vorhabensträger

Schömig plan INGENIEURGESELLSCHAFT mbH · archiscape architekten und landschaftsarchitekten · ymr landschaftsarchitekten